Technical Proposal For Development of Integrated Frameworks and Digital Solutions for FLR Monitoring, Evaluation, and Reporting under RECAP4NDC project

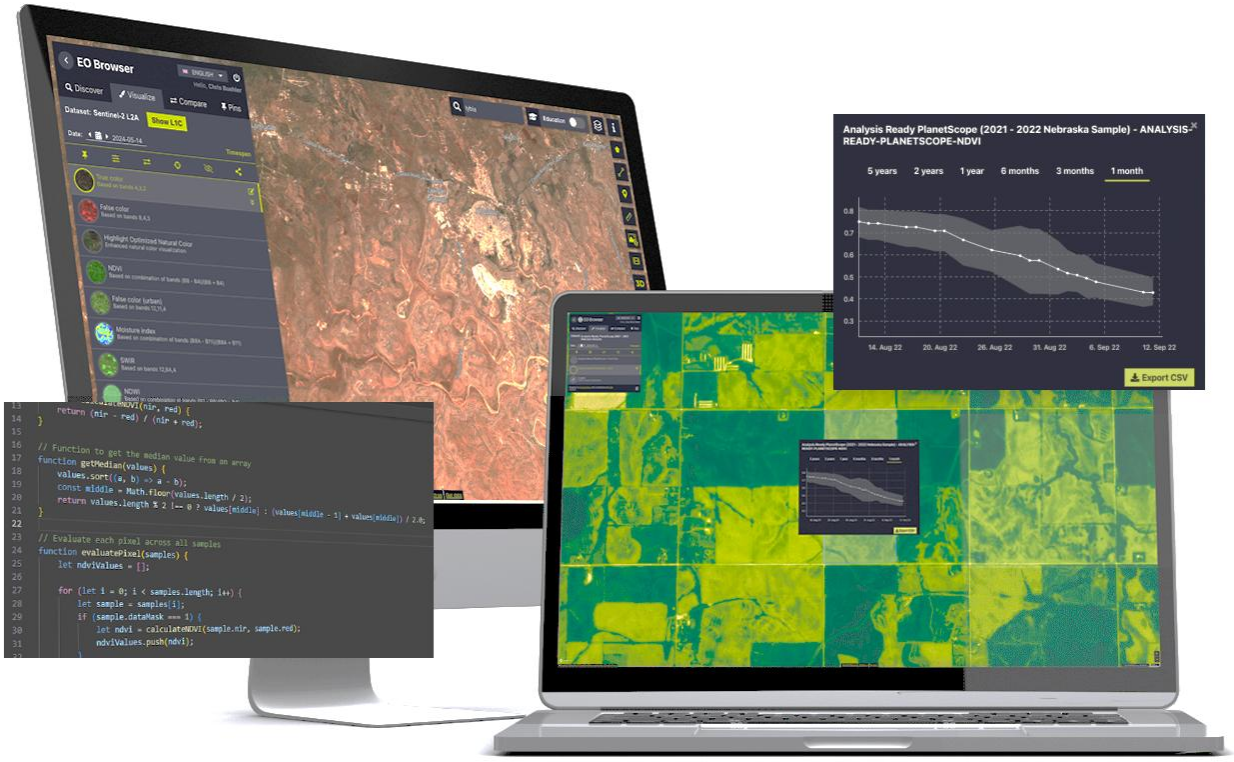

For

giz Deutsche Gesellschaft für Internationale Zusammenarbeit (GIZ) GmbH

Deutsche Gesellschaft für Internationale Zusammenarbeit (GIZ) GmbH

Submitted by

GISFY Building a smart world

GISFY Private Limited

DSL Abacus IT Park, Industrial Development Area Uppal,
Ranga Reddy Dist., Hyderabad, Telangana, 500039, India

Technical Submission Form

GISFY PRIVATE LIMITED
CIN: U74999UP2016PTC087694
info@gisfy.co.in/www.gisfy.co.in

Hyderabad
30th April 2025
Tel No. +91 9971777963
Email: info@gisfy.co.in

To,
The Head of Contracts and Procurement
GIZ GmbH, GDCO Office
New Delhi – 110 057

Subject: Proposal in response to Tender No. 83485307

Dear Sir/ Madam,

I/We the undersigned hereby offer to execute the scope of work and accordingly submit our offer in full compliance with terms & conditions of the bid.

The bid is being submitted as per the instructions mentioned in the tender documents.

Legal Name of Entity	GISFY Private Limited
Name of the Authorized Signatory	Reshma Parveen Shaik
Mobile Number	+91 87507 77963
Email Id	reshma@gisfy.co.in
Office address	Ground Floor, DSL Abacus IT Park, IDA Uppal, Ranga Reddy Dist., Hyderabad, Telangana, 500039 India
CIN Number/Registration Number	1. Uttar Pradesh: U74999UP2016PTC087694 2. Telangana: U74999TG2016PTC139570
Name of Directors with DIN/PAN	Reshma Parveen Shaik - 07621934 Azghar Hussain Mohammed - 07621930

For and on behalf of GISFY Private Limited.

Ms. Reshma Paveen Shaik
CEO, GISFY Private Limited

Table of Contents

How GISFY meets the technical requirements as per TOR 5

Organizational Details 6

Management Structure 7

1. Technical-Methodological Design 21

1.1 Strategy 21

1.1.1 Interpretation of the objectives in the TORs, critical examination of tasks 21

1.1.2 Contextualization for Gujarat State 22

1.1.3 Description and Justification of the contractors strategy for delivering the services put out of tender 22

1.1.4 Work Plan 42

1.2 Cooperation 43

1.2.1 Presentation and interaction between the relevant actors in the contracts are of responsibility 43

1.2.2 Strategy for establishing cooperation and then cooperating with the relevant actors 44

1.3 Steering Structure 45

1.3.1 Approach and procedure for steering the measures with the project partners 45

1.3.2 Description of contractor's contribution to results monitoring and the associated challenges. 45

1.4 Processes 46

1.4.1 Presentation and explanation of the implementation plan: work steps, milestones, schedules 46

1.5 Learning and innovation 47

1.5.1 Contractor's contribution to knowledge management at the partner and at GIZ 47

1.5.2 Presentation and explanation of the measures undertaken by the contractor to promote scaling-up effects 48

1.6 Project management of the contractor 48

1.6.1 Approach and procedure for coordination with/in GIZ project 48

1.6.2 Personnel Assignment Plan (who, when, what work steps) including explanation of and specification of expert months 49

1.6.3 Contractor's Backstopping Strategy 50

1.7 Further Requirements 52

2. Proposed Staff 53

2.1 Core Team 59

Team Leader: Dr. G.Sailu 59

Data Scientist: Mr. Mohammad Moonis 61

Ecosystem Modeller: Dr. Jayanthi Nagakumar 62

Software Engineer: Mr. Azghar Hussain Mohammed 64

UI/UX Designer: Durga Ajay Babu 66

Geospatial Expert: Mr. Pranay Kumar 68

Web Developer – 1: Mr. Kishan Kumar 70

Web Developer – 2: Ms. Pankaja Chichagandi 72
Web Developer – 3: Ms. Girija Priyadarsini Nayak 74
Mobile App Developer – 1: Mr. Nirmal K Shaji 75
Mobile App Developer – 2: Mr. Mubasher Ul Islam 77
Quality Assurance Engineer: Mr. Mangesh Subhash Neul 79
Deployment Engineer: Ms. Fathima Begum 81
Documentation Specialist: Mr. Siddhartha Goli 82
3. Eligibility Requirement of Project Credentials 85
Annexure “A” – Check list of documents 85
Annexure 1: Credentials 87

How GISFY meets the technical requirements as per TOR

Fulfilment of technical-methodological concept requirements

S. No.	Technological-Methodological Concept	How we meet the requirement
1	Scalable and Modular System Architecture	We employ a microservices-based architecture, ensuring scalability, modular expansion, and interoperability with existing forest management systems.
2	Integration of Sentinel Hub APIs for Real-Time Satellite Imagery	Our team has extensive experience in integrating Sentinel Hub APIs for real-time satellite imagery retrieval, vegetation index analysis, and automated deforestation detection.
3	Development of Cross-Platform Mobile Applications	We develop mobile applications using Flutter for cross-platform (iOS & Android) compatibility, ensuring seamless field data collection with offline functionality.
4	Implementation of GIS-Based Decision Support System	We utilize OpenLayers, PostGIS, and GeoServer to build a GIS-based decision support system with interactive mapping and data analytics.
5	Real-Time Data Synchronization Between Mobile and Web Systems	We ensure seamless real-time data synchronization using Firebase and RESTful APIs, enabling immediate access to field data from web platforms.
6	User-Friendly UI/UX for Field and Administrative Users	Our UI/UX team follows human-centered design principles, ensuring intuitive navigation for both technical and non-technical users.
7	Role-Based Access Control and Data Security Measures	We implement secure authentication (OAuth 2.0, JWT) and data encryption to protect sensitive forest management data.
8	Automated Forest Cover Change Detection Using NDVI/NDWI	Our team specializes in remote sensing and machine learning models to automate NDVI/NDWI-based forest cover change detection and monitoring.
9	Cloud-Based Deployment for High Performance and Reliability	We deploy the system on AWS and Azure cloud platforms with auto-scaling, load balancing, and disaster recovery features.
10	Comprehensive Training and Knowledge Transfer Strategy	We provide structured training sessions, user manuals, and on-demand support to ensure successful adoption and sustainability of the platform.

Organizational Details

GISFY Private Limited is a is a globally recognized leader in digital transformation, geospatial intelligence, climate risk analysis, and conflict early warning systems. With a strong foundation in ICT system integration, data-driven decision-making, and AI-powered analytics, the organization specializes in developing scalable technology solutions for government agencies, international organizations, and humanitarian entities. Our expertise spans public sector digitalization, early warning platforms, disaster risk management, and predictive modeling, making us a trusted partner in enhancing resilience, security, and governance worldwide. We are recognized as a start-up by the Department of Industrial Promotion and Policy; and have worked with renowned organizations like Nanyang Technological University (Singapore), University of West Indies, Innovative Hydrology, and World Business Council for Sustainable Development (WBCSD), Belize Social Investment Fund, and various Government departments across the world.

We work across the world and provide services and solutions in the following areas of work.

- Agricultural and Forestry Applications Development
- Natural Resources Management
- GIS and ICT Platforms (web and mobile)
- Sentinel Hub API Integration
- Urban Development
- Hydromet and Conflict Early Warning Systems
- Geospatial Intelligence & GIS-Based Risk Mapping
- Disaster Risk Management & Climate Resilience
- Android Mobile App Development
- Geospatial mapping and Data Development
- Documentation & Knowledge Management

The following are further details and documentation proof of our organization

Item	Description
Name of the organization	GISFY PRIVATE LIMITED CIN No.: U74999UP2016PTC087694 PAN No.: AAGCG5903P GSTIN: 36AAGCG5903P1Z6
Type of the organization	Private Limited
Address	Ground Floor, DSL Abacus IT Park, Industrial Development Area, Uppal, Ranga Reddy District, Hyderabad, Telangana 500039, India;
Contact Details	Azghar Hussain Mohammed, Founder & CTO Tel: +91-9971777963 Email: azghar@gisfy.co.in; skype: yashikakki.

Management Structure

Key Personnel	Brief Profile
Dr. G. Sailu 	Dr. G. Sailu is a seasoned Project Manager with over 18 years of experience in leading complex, multi-stakeholder assignments in the domains of environmental management, forestry, and sustainable landscape restoration. He holds a Ph.D. in Environmental Science from Osmania University and an M.Sc. in Biotechnology from Periyar University. Dr. Sailu has successfully overseen the design and implementation of large-scale development projects funded by multilateral agencies, with a focus on planning, monitoring, team coordination, and client engagement. In his role as Project Manager for the RECAP4NDC assignment, Dr. Sailu will provide strategic leadership and full-cycle management oversight for the development of integrated Monitoring, Evaluation, and Reporting (MER) frameworks and associated digital tools for Forest Landscape Restoration (FLR). He will be responsible for managing work planning, expert coordination, stakeholder consultations, compliance with deliverables, and quality assurance across both Work Package 1 and Work Package 2. Dr. Sailu's experience includes managing interdisciplinary teams across diverse geographies, including India, Bhutan, and Kenya, ensuring timely delivery of project outputs while maintaining alignment with technical standards and institutional requirements. He brings a strong background in coordinating with national and state-level government institutions such as MoEFCC, FSI, and State Forest Departments, ensuring seamless integration of project activities with government priorities. He has led national-level assignments involving restoration planning, spatial data integration, and institutional capacity building. His ability to manage cross-functional teams including GIS experts, software developers, remote sensing analysts, and training specialists makes him well-suited to deliver the RECAP4NDC project objectives within the stipulated timeline and budget. Dr. Sailu will ensure adherence to the TOR-specified methodology, guide the implementation of stakeholder engagement and validation processes, and oversee the piloting of MER tools in Gujarat, Maharashtra, Uttarakhand, and Delhi NCR. His experience managing donor-funded projects aligns closely with GIZ's expectations on performance reporting, visibility, and adaptive planning.

	In addition to his project management responsibilities, Dr. Sailu will contribute to capacity-building efforts, coordinating the delivery of training modules, user manuals, and field implementation protocols. His leadership will ensure that the MER framework and digital solutions are not only technically sound but also practical, user-friendly, and sustainable for long-term institutional adoption. Dr. Sailu's proven project management track record, domain familiarity, and results-driven approach will be instrumental in delivering a high-impact, scalable MER system under the RECAP4NDC initiative.
Mr. Mohammad Moonis	Mr. Mohammad Moonis is a highly skilled Data Scientist and environmental analytics expert with a M. Phil. Natural Resource Management from the Indian Institute of Forest Management, Bhopal, and a M. Sc. Environmental Science from Jawaharlal Nehru University, New Delhi. With over 17 years of experience in data-driven environmental modeling, machine learning, and geospatial data analytics, Dr. Moonis brings a unique blend of domain expertise and advanced technical proficiency to support evidence-based forest management and landscape restoration. Dr. Moonis specializes in the application of statistical modeling, predictive analytics, and AI-based algorithms for environmental monitoring, land-use change analysis, and ecological risk assessment. His expertise will be critical to the development of intelligent features within the geospatial dashboard and mobile applications under the RCAP4NDC Gujarat project, ensuring real-time data interpretation, trend forecasting, and spatial decision support. Having worked extensively with international organizations such as FAO, UNEP, and GIZ, Dr. Moonis has led the design of machine learning models for deforestation prediction, carbon stock estimation, and afforestation impact evaluation. He is proficient in tools such as R, Python, Google Earth Engine, TensorFlow, and PostgreSQL/PostGIS, enabling him to build scalable, automated data pipelines and high-performing analytical dashboards. His work supports seamless integration of satellite imagery, mobile-based field data, and forest inventory datasets to produce actionable insights for planners and policymakers. Within this project, Dr. Moonis will be responsible for designing the data architecture and analytical models that underpin key functionalities, such as forest cover change detection (using NDVI/NDWI), patrolling pattern analysis, and spatial validation of working plan coupes. He will also lead the development of

	real-time alert systems and performance indicators that enhance the Department's ability to monitor restoration efforts and make data-backed interventions. Dr. Moonis has previously contributed to national-level decision-support tools and WebGIS platforms for forest degradation monitoring, agroforestry planning, and climate vulnerability mapping. His experience in combining structured and unstructured datasets, performing multi-temporal satellite image analysis, and building AI-enabled classification models will directly support the development of an intelligent and responsive geospatial system for the Forest and Environment Department, Government of Gujarat. In addition to his technical contributions, Dr. Moonis is a strong advocate of open data standards, reproducible research, and institutional capacity building. He will assist in creating user-friendly data visualization interfaces and analytical dashboards for use by field officers, GIS teams, and policy stakeholders. He will also lead sessions on data literacy and analytics interpretation as part of the project's knowledge management and training components. With a proven track record of using data science to drive conservation outcomes and policy transformation, Dr. Moonis will play a pivotal role in ensuring that the RCAP4NDC digital monitoring tools are robust, insightful, and future-ready—empowering Gujarat's Forest administration with the analytical capabilities needed for sustainable and adaptive forest landscape restoration.
Dr. Jayanthi Nagakumar 	Dr. Jayanthi Nagakumar is a distinguished Ecosystem Modeller and landscape ecologist with a Ph. D (Environmental Planning) from University of Mysore, and a M.Sc. (Botany) from University of Mysore. With over 36 years of experience in ecosystem simulation, spatial habitat modeling, and land degradation assessment, Dr. Jayanthi brings deep domain knowledge and advanced modelling expertise to support sustainable forest management and Forest Landscape Restoration (FLR) under climate change scenarios. Dr. Jayanthi has worked extensively at the interface of ecology, remote sensing, and spatial analytics, using data-driven models to simulate ecological processes, assess forest resilience, and support biodiversity conservation planning. Her contributions will be central to the RCAP4NDC Gujarat project, where she will develop ecosystem simulation models and restoration suitability maps, ensuring that mobile and dashboard tools are rooted in ecological intelligence and long-term environmental planning.

	With a career spanning multi-country projects in India, Dr. Jayanthi has applied ecosystem modeling techniques such as species distribution modeling (SDM), landscape connectivity analysis, and carbon sequestration forecasting to inform conservation strategies, afforestation programs, and natural resource management. She is proficient in platforms like InVEST, MaxEnt, R, GAMS, and ArcGIS ModelBuilder, allowing her to integrate ecological datasets with geospatial workflows for scenario analysis and restoration prioritization. As part of this project, Dr. Jayanthi will lead the design and implementation of spatial ecosystem models to assess forest health, land-use change dynamics, and restoration potential across Gujarat's forest landscapes. Her work will support the identification of ecologically sensitive zones, validate land cover classifications, and contribute to the development of decision-support layers within the geospatial dashboard enabling forest managers to visualize trade-offs and co-benefits of restoration actions. Dr. Jayanthi has previously contributed to the development of degradation vulnerability maps, ecosystem services quantification tools, and climate-resilient land-use strategies, making her expertise invaluable for building an integrated decision-making platform under the RCAP4NDC framework. Her work aligns with global standards and initiatives such as the Bonn Challenge, REDD+, and UNCCD Land Degradation Neutrality goals, ensuring policy and institutional relevance. In addition to his modelling work, Dr. Jayanthi is deeply involved in capacity building and applied research translation. She will support the creation of ecological training modules, conduct technical workshops for forest officers and GIS analysts, and guide the Forest Department in interpreting ecosystem indicators and model outputs for planning and monitoring purposes. With a rare combination of ecological insight, spatial modeling expertise, and hands-on experience in forestry and restoration contexts, Dr. Jayanthi will play a critical role in ensuring that the Gujarat Forest Monitoring platform is not only technologically advanced but also ecologically grounded and restoration-oriented contributing directly to Gujarat's vision of sustainable and climate-resilient forest landscapes.
Mr. Azghar Hussain Mohammed	Mr. Azghar Hussain Mohammed is a highly accomplished Software Engineer and enterprise systems architect with a Bachelor's degree in Computer Science Engineering from Kakatiya University, Andhra Pradesh, and over 22 years of experience in software development, platform architecture, and large-scale system integration across environmental, agricultural, and e-governance domains. His deep expertise in

full-stack development, secure API design, and high-performance digital platform engineering makes him exceptionally qualified to lead the software development components of the RCAP4NDC Gujarat Forest Monitoring Project.

Mr. Hussain has led the development of complex digital solutions for government and donor-funded projects, integrating WebGIS, mobile applications, and cloud infrastructure to address challenges in natural resource management, forestry, and climate adaptation. His core competencies include end-to-end software architecture, responsive mobile application design, backend service orchestration, and platform security compliance, with proficiency in technologies such as Microsoft ASP.NET, PHP, Python, Angular, React, and C#. He also brings strong experience in PostgreSQL, MongoDB, MySQL, and real-time data streaming from field-based IoT/GIS sources.

For this project, Mr. Hussain will play a central role in the design, development, and deployment of the mobile applications and the centralized geospatial dashboard, ensuring seamless functionality, real-time synchronization, and cross-platform scalability. His contributions will include building robust backend systems for forest cover change detection, patrol reporting, and coupe ground-truthing workflows ensuring that field data is processed securely and visualized instantly within the decision-support dashboard.

Mr. Hussain has previously developed cloud-based platforms for forest monitoring, seed supply chain tracking, e-marketplaces, and climate-vulnerable region assessments, supporting organizations such as the World Bank, UNDP, and state forest departments.

He is also adept at integrating geospatial processing tools (GeoServer, Leaflet, Mapbox) and real-time analytics modules, allowing the Gujarat Forest Department to monitor satellite data trends, generate reports, and respond to deforestation alerts with precision. His contributions will ensure that the digital tools are not only responsive and user-friendly but also compliant with data protection laws, ensuring secure handling of sensitive environmental and geolocation data.

Beyond development, Mr. Hussain plays a strong mentoring and support role facilitating developer team coordination, DevOps pipeline automation, and quality assurance testing to ensure agile delivery and high system reliability. He will also support capacity building by creating technical documentation,

	user training materials, and system maintenance protocols tailored to the needs of the Forest Department's IT teams. With a proven track record in delivering scalable and secure digital solutions for complex environmental systems, Mr. Azghar Hussain Mohammed will be instrumental in ensuring that the Gujarat RCAP4NDC platform is technically sound, fully interoperable, and capable of supporting real-time forest management and FLR monitoring at scale.
Mr. Durga Ajay Babu 	Mr. Ajay Babu is a highly skilled UI/UX designer with extensive experience in creating user-friendly and visually engaging digital interfaces for web and mobile applications. His expertise lies in user-centered design, accessibility, and interactive prototyping, ensuring seamless navigation and an intuitive user experience. He specializes in wireframing, prototyping, and front-end optimization, leveraging industry-standard tools such as Adobe XD, Figma, Sketch, and Axure RP. His technical proficiency in HTML, CSS, JavaScript, and Bootstrap enables him to develop pixel-perfect, responsive designs tailored to meet diverse user needs. He has played a crucial role in designing digital solutions for projects such as TIGRAM – Timber Traceability, Agri Entrepreneur Growth Foundation (AEGF), and NTR Smart Township, where he ensured optimal user experience, interactive visualization, and accessibility compliance. His work spans India, Africa, Cambodia, Nigeria, Belize, Vietnam, Singapore, Tajikistan, Kenya, Ethiopia, Bermuda, and the USA, reflecting his ability to adapt to global design trends and usability standards. His ability to translate complex user requirements into engaging, functional digital interfaces makes him an invaluable asset in enhancing the usability and effectiveness of digital platforms.
Mr. Pranay Kumar 	Mr. Pranay Kumar is an accomplished Geospatial Expert with a Master's Diploma in GIS & Remote Sensing from Jadavpur University, Kolkata, and a Master's in Geography from Patna University, Bihar. His strong academic background in geospatial science, cartography, and satellite image processing has provided him with the expertise to develop GIS-based solutions for environmental monitoring, land-use planning, and sustainable resource management. With an extensive understanding of spatial analysis, remote sensing applications, and geospatial data visualization, Pranay has played a pivotal role in integrating GIS technology with decision-support systems. His deep knowledge of cartographic principles, GIS modeling, and cloud-based geospatial data processing has allowed him to contribute effectively to complex GIS projects.

	With over 13 years of experience in GIS development, geospatial database management, and spatial decision-making, Pranay has worked on large-scale GIS implementations in India, Malawi, and Afghanistan. His expertise includes developing WebGIS applications, designing geospatial data infrastructure, and integrating remote sensing technologies for land-use analysis. He has contributed to various GIS-driven projects in forestry, agriculture, and disaster risk management, leveraging geospatial intelligence to support policy formulation and environmental sustainability initiatives. His work has been instrumental in building GIS portals, developing geospatial analytics models, and designing interactive mapping platforms for real-time decision-making. Pranay has been actively involved in conducting spatial risk assessments, mapping ecosystem vulnerabilities, and integrating climate adaptation strategies into GIS frameworks. His hands-on experience in WebGIS development, GIS database architecture, and cloud-based spatial data processing aligns seamlessly with this project's focus on forest monitoring, real-time satellite imagery integration, and mobile-based GIS applications. He is highly proficient in ArcGIS, QGIS, PostGIS, GeoServer, and OpenLayers, making him well-equipped to develop and deploy WebGIS applications for large-scale environmental projects. His expertise in Sentinel-2 and Landsat satellite image analysis enables him to extract valuable insights for forest cover change detection, vegetation health assessment, and afforestation monitoring. He has extensive experience in geospatial database design, spatial query optimization, and GIS-based predictive modeling, ensuring that the data-driven insights generated from GIS applications contribute effectively to conservation planning and forest management. His technical proficiency in developing spatial models, integrating AI-driven remote sensing analytics, and automating GIS workflows ensures that geospatial applications are scalable, efficient, and user-friendly. Throughout his career, Pranay has worked on numerous projects that utilize GIS technology for environmental monitoring, land degradation assessment, and sustainable forestry management. His work in developing vulnerability maps, land-use classification models, and geospatial dashboards for climate adaptation strategies demonstrates his ability to apply GIS in addressing environmental challenges. His experience in Sentinel Hub API integration for real-time remote sensing applications ensures that the forest monitoring platform

	will have highly accurate, up-to-date geospatial intelligence for conservation efforts. His expertise will be crucial in ensuring that the GIS system effectively supports data-driven decision-making, enabling policymakers and conservationists to assess afforestation efforts, detect deforestation trends, and optimize forest resource management strategies. With his strong background in geospatial science, GIS application development, and environmental analytics, Pranay will play a vital role in delivering a scalable, efficient, and impactful GIS solution for Gujarat's Forest conservation initiatives.
Mr. Kishan Kumar 	Mr. Kishan Kumar is an experienced full-stack web developer with over 8 years of expertise in developing scalable, high-performance web applications. His technical proficiency includes ASP.NET, PHP, Angular, ReactJS, Python, and JavaScript frameworks, along with extensive knowledge of database management systems such as MongoDB, PostgreSQL, and SQL Server. His expertise lies in developing dynamic, secure, and data-driven web platforms, integrating real-time analytics, cloud-based solutions, and robust API frameworks. He has contributed significantly to projects such as TGP, Lekha – Money Monitoring, and NTR Smart Township, where he played a key role in integrating secure payment gateways, WebGIS functionalities, and responsive data visualization tools. Having worked across India, Africa, Vietnam, Singapore, and the USA, Mr. Kishan has successfully developed and deployed enterprise-grade web solutions tailored to meet the needs of government agencies, private enterprises, and development organizations. His knowledge of agile methodologies, cloud security, and front-end optimization makes him a vital resource for modern, scalable, and high-performance web development.
Ms. Pankaja Chichagandi 	Ms. Pankaja Chichagandi is a seasoned full-stack developer with over 7 years of experience in software and web development, specializing in GIS-based applications, cloud computing, and fintech platforms. She has a strong background in C#, Java, PHP, Laravel, Drupal, and Python, coupled with expertise in GIS technologies such as ArcGIS, OpenLayers, and GeoServer. She has played a pivotal role in projects such as TIGRAM – Timber Management and Traceability, Agri Entrepreneur Growth Foundation (AEGF), and Van System, where she ensured seamless system integration, database optimization, and performance-driven application development. Her ability to

	develop intuitive, responsive, and scalable web solutions has contributed to the success of multiple data-driven projects in agriculture, forestry, and financial inclusion. Her experience across India, Africa, Singapore, and the USA highlights her adaptability to global technology trends and business requirements. With her expertise in web application security, cloud architecture, and API integrations, Ms. Pankaja is a key asset in delivering robust, secure, and innovative digital solutions.
Ms. Girija Priyadarsini Nayak 	Girija Priyadarshini Nayak is a highly proficient Web Developer with a Master's in Computer Applications (MCA) from Khallikote University, Odisha, India. With a strong academic foundation in software development, database management, and front-end/back-end integration, she has developed expertise in building scalable, secure, and high-performance web applications. Her education has equipped her with a deep understanding of programming languages, cloud-based deployments, and UI/UX design principles, ensuring that she can deliver seamless and interactive digital experiences. Her strong analytical skills, combined with her proficiency in modern web technologies, security protocols, and application optimization, make her a critical asset for complex IT solutions, especially for geospatial platforms and decision-support systems. With over three years of experience in web application development, UI/UX optimization, and database-driven solutions, Girija has successfully developed and deployed large-scale web platforms across various domains, including forest management, public health, environmental sustainability, and geospatial decision-making. She has played a crucial role in building dynamic, user-centric web applications that integrate real-time data analytics and geospatial visualization. Her experience extends to developing GIS-enabled dashboards, interactive mapping interfaces, and cloud-based application architectures, which align with this project's focus on forest monitoring, remote sensing, and decision-support tools. Girija's technical expertise spans multiple front-end and back-end technologies, including ASP.NET, ReactJS, JavaScript, jQuery, PostgreSQL, SQL Server, and cloud-hosted environments. She has extensive experience in geospatial web development, working with OpenLayers, Leaflet.js, GeoServer, and PostGIS, which are essential for building interactive GIS-based applications. Her proficiency in database management and API integration allows her to design efficient data pipelines for real-time information retrieval and visualization. She has

	implemented security best practices, including authentication protocols (OAuth 2.0), role-based access controls, and encryption techniques, ensuring that the applications she develops adhere to industry security standards. Additionally, her expertise in responsive web design and accessibility standards ensures that the GIS dashboards and geospatial data platforms are intuitive and user-friendly across multiple devices. She has been instrumental in developing WebGIS solutions for land-use monitoring, deforestation tracking, and afforestation planning, ensuring that policymakers and conservationists can make data-driven decisions based on real-time insights. Her work in integrating Sentinel Hub API services into WebGIS platforms enables seamless satellite imagery processing, vegetation index analysis, and land-cover classification. Her ability to optimize geospatial applications for real-time user interaction, data accuracy, and system responsiveness ensures that the web platform for forest monitoring will operate efficiently under large data loads and complex user interactions. Her role will be critical in ensuring that the web application provides seamless, user-friendly access to forest monitoring data, enabling decision-makers, field officers, and policymakers to effectively track afforestation efforts, patrol routes, and forest cover changes. With her expertise in scalable web development, GIS integration, and user-centric design, she will contribute to delivering a high-performance, secure, and interactive platform for forest conservation in Gujarat.
Mr. Nirmal K Shaji 	Mr. Nirmal K Shaji is a dedicated mobile application developer with over 4 years of experience in building high-performance, user-friendly mobile applications for Android and iOS platforms. He specializes in Flutter, Java, Kotlin, Ionic, and React Native, ensuring cross-platform compatibility, seamless UI/UX, and high-efficiency app performance. He has contributed to Engagement of an IT Agency for ICT Material Development (Agriculture), and Agri Entrepreneur Growth Foundation (AEGF), developing mobile solutions that integrate real-time data processing, offline functionality, and intuitive user interfaces. His expertise in mobile API integration, push notifications, and financial transaction security has been instrumental in enhancing user engagement and mobile accessibility. Having worked on mobile-based solutions in India, Africa, and the USA, he understands the nuances of developing scalable and secure applications that cater to diverse industry

	requirements. His technical skills in mobile architecture, real-time synchronization, and fintech integration make him a critical contributor to cutting-edge mobile technology solutions.
Mr. Mubasheer Ul Islam	Mr. Mubasher Ul Islam is a versatile mobile application developer with over 4 years of experience in Android and iOS development, specializing in mobile UI/UX optimization, high-performance app architecture, and data security. He has expertise in Java, Flutter, HTML, CSS, JavaScript, Python, and PHP, with a strong foundation in database integration using Room Database, SQL Server, and MongoDB. His contributions to Engagement of an IT Agency for ICT Material Development (Agriculture), and TIGRAM – Timber Management and Traceability, Van IT, Millet Market, Bharati Makka, and other application have been vital in delivering efficient, scalable, and secure mobile solutions. His ability to integrate GIS-based tracking, blockchain authentication, and fintech security into mobile applications ensures enhanced usability and seamless performance. With experience spanning India, Africa, and the USA, he has developed cross-industry technology solutions tailored to various mobile user experiences. His expertise in app security, performance optimization, and cloud-based mobile solutions makes him a key player in next-generation mobile application development.
Mr. Mangesh Subhash Nuel	Mangesh Subhash Neul is a highly skilled Quality Assurance (QA) Engineer with a Bachelor's degree in Electronics and Communication Engineering from Kavikulguru Institute of Technology and Science, Ramtek, Nagpur, Maharashtra, India. His strong academic foundation in computer systems, software development life cycle (SDLC), and automated testing frameworks has equipped him with an analytical mindset and deep technical expertise in ensuring software reliability, performance, and security. Mangesh has over three years of hands-on experience in software quality assurance, test automation, and mobile/web application testing. His professional journey has been focused on ensuring system reliability, performance efficiency, and security compliance for large-scale software applications. He has worked on multiple projects related to forestry, healthcare, environmental monitoring, and GIS-based solutions, performing comprehensive functional, regression, and performance testing to ensure high-quality, bug-free application deployments. His role has involved collaborating with development teams to identify vulnerabilities, conducting end-to-end test case execution, and implementing automated test

	scripts to enhance software robustness. His experience in testing GIS-based applications and WebGIS dashboards aligns perfectly with this project's focus on forest monitoring, geospatial data integration, and mobile-based field data collection. As a QA Engineer, Mangesh has developed a strong technical skill set in manual and automated testing, test planning, and system validation. He has expertise in functional testing, black box testing, boundary value analysis (BVA), and equivalence partitioning (ECP) to identify software defects efficiently. His proficiency in Selenium WebDriver, TestNG, and Jenkins enables him to implement automation test suites for continuous integration and deployment (CI/CD) workflows. He is experienced in mobile application testing, ensuring compatibility, performance, and usability of apps in various environments. His experience in performance and load testing helps optimize server response times and scalability, ensuring the WebGIS platform remains efficient and responsive. He has conducted extensive testing of geospatial decision-support tools, verifying the accuracy and reliability of GIS data visualization, map overlays, and spatial analytics. His experience in testing Sentinel Hub API integrations and real-time geospatial data processing ensures the platform's accuracy and responsiveness in forest monitoring applications. His bug-tracking methodologies, defect documentation, and test automation strategies contribute significantly to software stability and performance. He will conduct manual and automated testing for mobile data collection applications, WebGIS-based forest cover change detection systems, and decision-support tools for policymakers. His expertise in automated regression testing will help in identifying system vulnerabilities early, ensuring that the forest management platform operates with high efficiency and minimal downtime. His contributions will be instrumental in delivering a robust, error-free, and high-performance system for real-time forest monitoring and conservation efforts in Gujarat.
Ms. Fathima Begum	Fathima Begum is a highly skilled Deployment Engineer with a Bachelor's degree in Computer Science Engineering from Vignana Bharathi Institute of Technology, JNTU Hyderabad, India. With a strong academic foundation in computer systems, cloud computing, and network security, she has developed deep expertise in deploying, managing, and optimizing cloud-based infrastructure solutions. Her technical education has provided her with a robust understanding of database management, IT security, automation, and scalable application

hosting, all of which are crucial in modern cloud computing environments.

With over three years of professional experience, Fathima has been instrumental in managing IT infrastructure, deploying cloud applications, and optimizing server performance for various large-scale projects. She has played a key role in configuring, deploying, and maintaining cloud-based applications in mission-critical environments, ensuring high availability, security, and scalability. Her work spans multiple domains, including forestry, health monitoring systems, GIS-based environmental platforms, and government-backed digital transformation initiatives. She has successfully led server migration projects, optimized system performance through cloud automation, and implemented high-security access controls for various organizations. Her experience extends to working with geospatial applications, where she has managed the deployment of GIS-based forest monitoring tools, real-time environmental data processing systems, and secure remote sensing applications.

Fathima possesses a diverse set of technical expertise and specialized skills in cloud infrastructure management, IT security, automation, and DevOps workflows. She is well-versed in AWS Cloud Services, including EC2, RDS, S3, IAM, CloudFront, ELB (Elastic Load Balancing), and CloudFormation, making her adept at deploying and maintaining scalable cloud environments. She is proficient in server management and optimization, ensuring high system reliability and efficiency by actively monitoring Ubuntu and Windows servers. Her experience in automated deployment and DevOps tools includes working with CI/CD pipelines, Jenkins, and infrastructure as code (IaC) using CloudFormation and Terraform. She has extensive experience in data backup and disaster recovery planning, including AWS S3 backup management, multi-region RDS instance replication, and high-availability cloud architecture setup.

Throughout her career, Fathima has worked on several large-scale projects, including the deployment of geospatial applications for environmental conservation, GIS-based decision support systems for forestry, and digital platforms for real-time monitoring of natural resources. She has been actively involved in configuring and deploying WebGIS platforms, ensuring seamless integration with Sentinel Hub APIs for real-time satellite data processing. Her work in cloud-based GIS hosting has facilitated the visualization and analysis of environmental data, contributing to forest management,

	afforestation planning, and land-use monitoring. By leveraging her expertise in cloud security, role-based access controls, and encrypted data transmission, she has ensured that these platforms comply with data privacy regulations and cybersecurity best practices. She will be responsible for optimizing AWS cloud infrastructure to support real-time geospatial data processing, integrating Sentinel-2 satellite imagery for forest monitoring, and ensuring the system's high availability and security.
Mr. Siddhartha Goli 	Mr. Siddhartha Goli is a meticulous documentation specialist with expertise in technical writing, compliance documentation, and process standardization. He has been responsible for preparing user manuals, administrative guides, inception reports, and training documentation for complex software systems and technology-driven projects. His work on TIGRAM – Timber Traceability, Agri Entrepreneur Growth Foundation (AEGF), and Van IT has been instrumental in ensuring well-structured, high-quality documentation that enhances knowledge transfer and project transparency. His strong proficiency in Microsoft Office, Advanced Excel, and Adobe Photoshop enables him to create detailed, visually engaging, and easy-to-understand documentation. Having worked in India, he has provided documentation support for various technology-driven initiatives, ensuring that project deliverables are well-documented, standardized, and easily comprehensible for all stakeholders. His role in training, compliance, and knowledge management significantly enhances project efficiency and usability.

1. Technical-Methodological Design

1.1 Strategy

1.1.1 Interpretation of the objectives in the TORs, critical examination of tasks

The RECAP4NDC Project outlined in the Terms of Reference (TOR) aims to develop an integrated Monitoring, Evaluation, and Reporting (MER) system for Forest Landscape Restoration (FLR) initiatives in selected landscapes across India. The central objective is to design and pilot scalable, participatory, and evidence-based MER frameworks, along with digital tools, that can support forest restoration planning and reporting at state and national levels. This will be accomplished through co-development of standardized MER indicators, methods, and tools; application of modern technologies such as remote sensing, GIS, drones, IoT, and AI; and stakeholder-driven institutional integration.

A key focus of the project is on creating MER systems that are aligned with India's national priorities and international commitments, such as the Bonn Challenge, UN SDGs, Paris Agreement, State of Forest Reports, and National Forest Inventory. By designing standardized frameworks and protocols, the project seeks to enable consistent, comparable, and outcome-focused monitoring across diverse restoration contexts. Additionally, the assignment requires integration with existing national and sub-national forest governance systems to ensure uptake and sustainability.

Another significant goal is the development and deployment of digital tools including mobile applications, dashboards, and GIS platforms to collect, visualize, and analyze restoration data. These tools should support real-time data collection, remote validation, and interactive reporting for various stakeholders, from field-level practitioners to state and central policymakers. The digital solutions must be user-friendly, flexible for use in different landscapes, and interoperable with existing systems, enabling seamless data exchange and institutional adoption.

Furthermore, the assignment emphasizes piloting the MER framework and tools in selected landscapes across Gujarat, Maharashtra, Uttarakhand, and Delhi NCR. Field testing and refinement will be critical to ensure that the systems are functional, scalable, and context-appropriate. The pilots will demonstrate how MER frameworks and digital tools can track ecological outcomes (e.g., forest cover, soil health), social outcomes (e.g., livelihoods, participation), and institutional outcomes (e.g., policy alignment, stakeholder coordination) of restoration interventions.

The assignment also underscores the need for participatory development of all outputs. This includes engaging key national and sub-national stakeholders such as MoEFCC, FSI, SFDs, IUCN, GIZ, and restoration practitioners through interviews, consultations, and workshops. This participatory approach ensures contextual relevance, capacity building, and stakeholder ownership of the MER systems and tools.

In addition, the project calls for strong knowledge management and capacity-building components. This includes developing user manuals, SOPs, and training modules for field staff and government officials. Capacity-building efforts such as training-of-trainers programs and regional workshops will be necessary to build long-term institutional capacity to use and manage the MER systems.

The assignment has the following specific objectives:

- Design of integrated and standardized Monitoring, Evaluation, and Reporting (MER) frameworks for Forest Landscape Restoration (FLR).
- Co-development of restoration indicators, methods, and tools aligned with national and global goals.
- Design and deployment of digital tools such as mobile apps, dashboards, and GIS platforms for MER.
- Field testing and piloting of the MER framework and tools in selected FLR landscapes.
- Stakeholder engagement and participatory development of MER systems.
- Capacity building and knowledge management for sustainable institutional adoption.
- Integration of Sentinel Hub APIs for High-Resolution Satellite Imagery Processing.

1.1.2 Contextualization for Gujarat State

The proposed solution is specifically designed to meet the needs of the Gujarat State Rural Livelihood Mission (GSRLM) under the Government of Gujarat. The modules including Grievance Redressal, Geo-tagging, and Knowledge Hub are tailored to support Self-Help Groups (SHGs), Village Organizations (VOs), and Cluster-Level Federations (CLFs) operating in the state's diverse rural landscape. Special attention will be given to incorporating Gujarati language support, integrating with existing Gujarat-specific MIS systems, and ensuring usability for rural women and functionaries with varying levels of digital literacy.

1.1.3 Description and Justification of the contractors strategy for delivering the services put out of tender

The consortium led by GISFY Private Limited, with Everain Global Services Private Limited as a strategic partner, proposes a rigorous, participatory, and technology-enabled approach to deliver the services under the RECAP4NDC assignment. The strategy is anchored in the consortium’s deep experience in ecological monitoring, geospatial system development, digital MER tools, and institutional engagement.

The overall implementation strategy is designed to support the development of a robust Monitoring, Evaluation, and Reporting (MER) system for Forest Landscape Restoration (FLR) in India. This includes both the technical development of frameworks and digital tools, and the human and institutional capacity-building required to ensure long-term adoption and sustainability.

We structure our delivery around the two Work Packages specified in the TOR:

- Work Package 1: Development of an integrated FLR monitoring and evaluation system in India.
- Work Package 2: Development of digital tools and technologies to operationalize the MER system and its institutional adoption.

Each Work Package consists of targeted activities that are mutually reinforcing and responsive to the TOR's requirements.

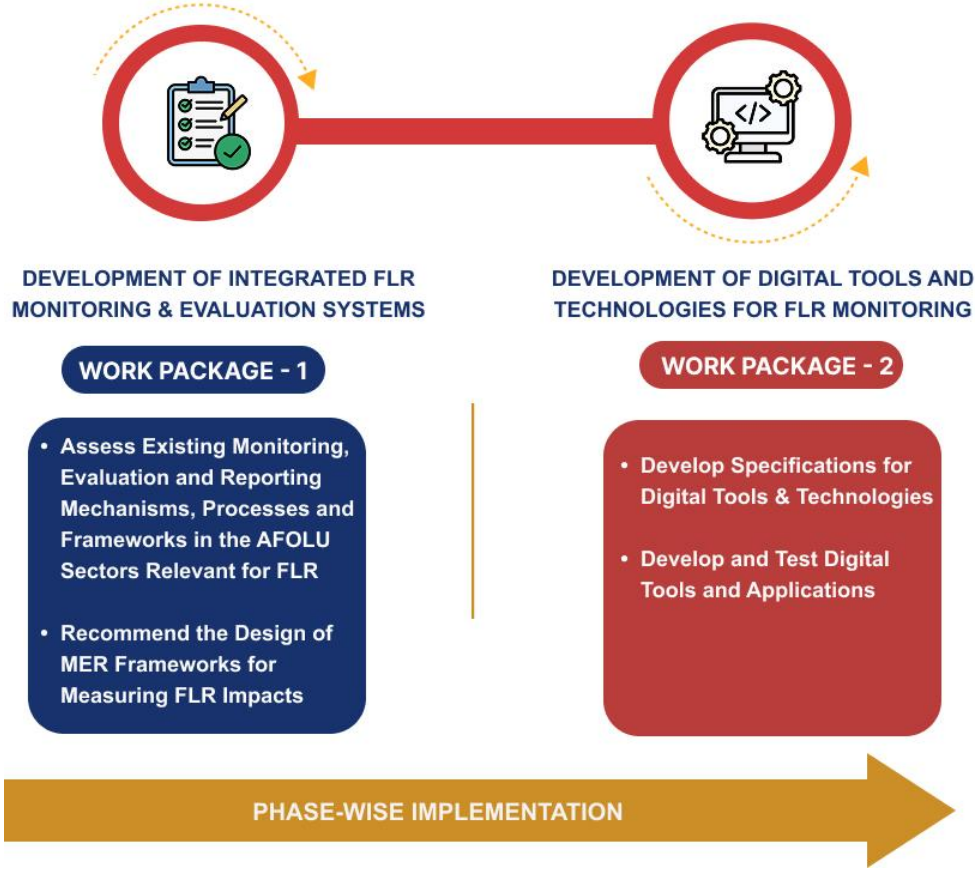

Work Package 1: Development of Integrated FLR Monitoring & Evaluation Systems

This work package aims to create a robust and integrated Monitoring, Evaluation, and Reporting (MER) system for Forest Landscape Restoration (FLR) across India. It focuses on building upon existing MER frameworks within the Agriculture, Forestry, and Other Land Use (AFOLU) sectors and tailoring them to monitor FLR outcomes. This work will support national commitments under the Bonn Challenge, Land Degradation Neutrality targets and NDC goals.

Activity 1.1: Assess Existing Monitoring, Evaluation and Reporting Mechanisms, Processes and Frameworks in the AFOLU Sectors Relevant for FLR

This activity will systematically analyze current MER systems in place across AFOLU sectors to evaluate their alignment with FLR indicators and outcomes. The goal is to identify strengths, weaknesses, and opportunities for harmonization to ensure a cohesive FLR monitoring structure across India.

Task 1.1.1: Stakeholder Mapping and Inventory of Existing MER Frameworks

This task involves a comprehensive review of stakeholders and existing MER frameworks.

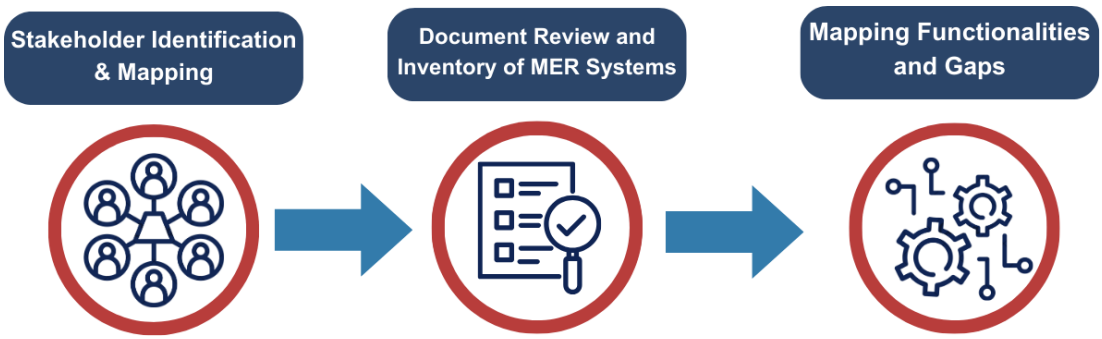

Stakeholder Identification and Mapping

- Identify key stakeholders from national, state, and district levels across AFOLU sectors. This includes ministries (MoEFCC, MoA&FW), technical agencies (FSI, NRSC), and NGOs involved in restoration.
- Map institutional mandates and roles related to data collection, monitoring, and reporting, focusing on overlaps and gaps relevant to FLR.
- Engage stakeholders through interviews, focus group discussions, and participatory workshops to document their current and potential roles in FLR monitoring.
- Evaluate communication channels and coordination structures between institutions involved in MER.
- Utilize GIS to visualize spatial presence and operational zones of stakeholders.
- Document the historical engagement of each stakeholder in MER systems and FLR initiatives.
- Analyze capacity levels, funding, and technical expertise available with stakeholders.
- Categorize stakeholders by influence, interest, and institutional readiness for collaboration in the proposed FLR monitoring system.

Document Review and Inventory of MER Systems

- Collect policy guidelines, manuals, annual reports, technical standards, and existing toolkits related to MER in forestry, agriculture, and watershed programs.
- Analyze spatial and temporal coverage of monitoring systems, including integration with geospatial platforms such as Bhuvan, VEDAS, and SEPAL.
- Examine indicators, data standards, reporting intervals, and compliance mechanisms adopted under each MER framework.
- Assess the presence of monitoring technologies like mobile apps, drones, and satellite imagery within these systems.
- Identify reporting requirements for national and international commitments (e.g., SDGs, UNCCD, UNFCCC, CBD).
- Create a repository of datasets, including metadata such as spatial resolution, periodicity, and responsible agency.
- Document interoperability challenges among existing digital MER platforms.
- Highlight best practices and case studies that can inform the design of an FLR-centric MER framework.

Mapping Functionalities and Gaps

- Develop a comparative matrix of key functionalities across MER systems, evaluating efficiency, inclusiveness, and scalability.
- Identify data collection duplication, inconsistent methodologies, and fragmented reporting lines that hinder effective FLR monitoring.
- Examine institutional silos that impede coordination and data sharing across ministries and departments.
- Analyze technological and infrastructure barriers to real-time monitoring, particularly in remote and tribal areas.
- Assess user-friendliness and field applicability of existing MER tools, identifying needs

for capacity building.

- Review institutional incentives and mandates that may impact data accuracy or compliance with MER procedures.
- Highlight areas where frameworks meet international standards and where localization is needed.
- Recommend areas for consolidation, integration, or reengineering of current systems to improve alignment with FLR objectives.

Task 1.1.2: Analytical Review of MER Frameworks and Institutional Capacities

This task involves a detailed analysis of institutional capacities and performance indicators.

Institutional Capacity Assessment

- Conduct a detailed analysis of institutional roles, mandates, and capacities for MER functions relevant to FLR.
- Evaluate the availability of technical personnel, digital infrastructure, and logistics at national and state levels.
- Identify capacity gaps in terms of knowledge, skill sets, and resource allocation among implementing agencies.
- Review previous MER training programs and assess their applicability to FLR-specific needs.
- Analyze coordination structures and governance challenges affecting institutional performance in MER.
- Examine budget allocations and funding mechanisms supporting MER activities across departments.
- Determine the potential for digital transformation and automation in MER functions.
- Propose a capacity development roadmap for scaling FLR monitoring through institutional strengthening.

Performance Indicator Analysis

- Compile and categorize indicators currently used in forestry, watershed, and agriculture programs.
- Evaluate indicator sensitivity to restoration outcomes like biomass increase, biodiversity enhancement, and land degradation neutrality.
- Assess consistency in definitions, baseline measurements, and periodicity across departments.
- Determine the extent of disaggregated data availability (gender, geography, livelihoods).

- Examine whether indicators are outcome-focused or activity-centric, and their alignment with global standards.
- Identify indicators that can serve as proxies for ecosystem services and resilience.
- Recommend new indicators for FLR integration based on scientific validity and field practicality.
- Propose standardized templates for indicator tracking, reporting, and impact assessment.

Global Benchmarking

- Review internationally recognized MER systems, including CIFOR's FLR monitoring guidelines and FAO's SEPAL platform.
- Identify technological, operational, and institutional features that have proven successful in other regions.
- Evaluate adaptability of these systems to Indian federal structures, data needs, and program cycles.
- Compare open-source versus proprietary platforms for scalability and cost-effectiveness.
- Investigate policy and incentive frameworks that support MER adoption in other countries.
- Draw lessons from community monitoring initiatives and citizen science models globally.
- Develop a benchmark matrix comparing Indian systems with global counterparts.
- Formulate recommendations for integrating best practices into India's proposed FLR MER system.

Task 1.1.3: Synthesis and Development of a Gap Analysis Report

This task involves synthesizing findings and developing a gap analysis.

Draft Gap Analysis Report

- Synthesize insights from the Stakeholder Mapping, Inventory of existing MER frameworks, and the analytical review of MER frameworks and institutional structures into a comprehensive narrative that outlines the current status and effectiveness of existing MER frameworks.
- Identify key gaps in data collection, institutional mandates, technological infrastructure, and interdepartmental coordination.
- Provide a thematic breakdown of gaps by sector forestry, agriculture, land, and water and by geographic zone.

- Structure the report with visual elements like graphs, matrices, and infographics to enhance understanding.
- Outline strategic areas for harmonization with national environmental and climate-related reporting platforms.
- Integrate case studies from previous successful restoration monitoring initiatives in India and abroad.
- Ensure that the report addresses both operational and strategic dimensions of the MER ecosystem.
- Position the report as a foundational document to guide the design of the FLR-specific MER framework in subsequent activities.

Stakeholder Validation

- Design a participatory validation process engaging representatives from key ministries, line departments, and civil society.
- Organize regional consultations and national workshops to review and validate the findings of the gap analysis report.
- Use interactive methods such as SWOT analysis, problem tree analysis, and participatory ranking tools.
- Capture stakeholder inputs through surveys, group discussions, and plenary feedback sessions.
- Address diverse perspectives, especially from local implementation agencies and community-based organizations.
- Document all feedback with attribution to inform a transparent revision process.
- Revise the draft gap analysis report based on inputs received and prepare a final validated version.
- Ensure that the validated report is accepted and endorsed by key nodal agencies for official integration into planning.

Final Synthesis and Roadmap

- Develop a strategic roadmap that outlines short-term, medium-term, and long-term interventions for bridging identified gaps.
- Assign responsibilities to institutional actors for each phase of implementation based on their mandates and capacities.
- Propose timelines, budgets, and indicators for monitoring progress on roadmap implementation.
- Integrate capacity-building and technology adoption strategies into the roadmap.
- Align the roadmap with existing policy frameworks such as the National Action Plan on Climate Change (NAPCC), NDCs, and SDG 15.3 targets.
- Highlight potential areas for donor and multilateral engagement to support implementation.
- Include contingency planning for operational risks, funding limitations, or stakeholder resistance.
- Present the roadmap in a modular format to allow phased implementation and customization by state governments.

Activity 1.2: Recommend the Design of MER Frameworks for Measuring FLR Impacts

This activity focuses on designing new and improved MER frameworks tailored for FLR that build upon the findings from Activity 1.1. It will propose specific indicators, data workflows, governance mechanisms, and reporting formats necessary to measure the ecological, social, and economic outcomes of FLR efforts in India.

Task 1.2.1: Define FLR-specific Indicators and Metrics

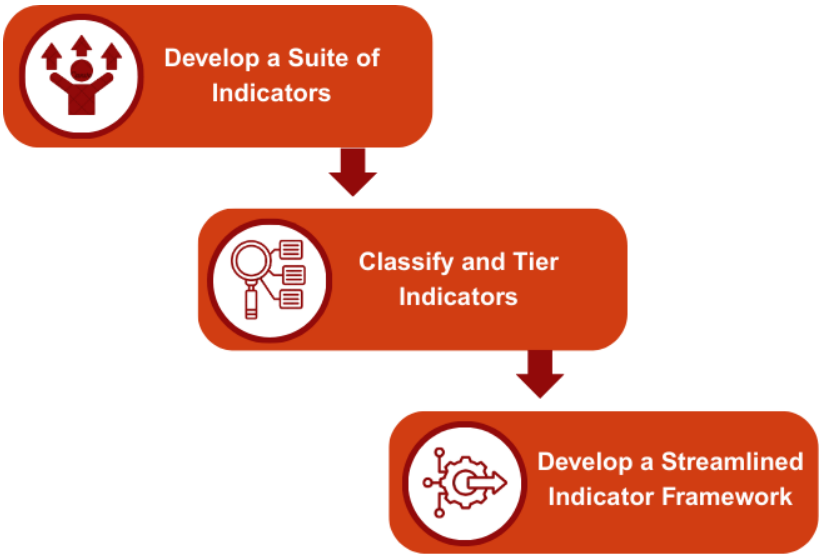

Develop a Suite of Indicators

- Identify biophysical indicators such as forest cover, biomass, soil carbon, land productivity, and water availability to measure ecosystem restoration.
- Include socio-economic indicators such as household income diversification, employment in restoration activities, and gender inclusion metrics.
- Consider institutional indicators like governance effectiveness, inter-agency collaboration, and policy alignment.
- Ensure indicators are scalable and usable at national, state, and landscape levels.
- Validate indicator selection with stakeholders to ensure relevance and measurability.
- Align indicators with SDGs (particularly 15.3), Bonn Challenge Barometer, and India's NDC framework.
- Propose core vs. optional indicators based on implementation contexts.
- Ensure indicators support adaptive management and decision-making.

Classify and Tier Indicators

- Establish a tiered structure with national-level, state-level & landscape-level indicators.
- Specify data collection methods (field measurements, remote sensing, etc.) for each tier.
- Outline how local data will be aggregated to inform national reporting.
- Define spatial and temporal scales for measurement and reporting.
- Clarify roles of different stakeholders in data collection and aggregation.
- Allow flexibility for states to include additional indicators relevant to their context.

Develop a Streamlined Indicator Framework

- Consolidate a comprehensive list of potential indicators into a core set for regular monitoring.
- Prioritize indicators that are cost-effective, easy to measure, and policy-relevant.
- Ensure the framework aligns with national and international reporting requirements.
- Incorporate feedback loops for periodic review and revision of the indicator set.
- Document the scientific basis and rationale for selecting each indicator.

Task 1.2.2: Design Data Collection Methodologies and Protocols

This task includes the following sub-tasks:

1. Develop Standardized Protocols
   - Develop detailed, step-by-step protocols for data collection, including sampling design, measurement techniques, and frequency.
   - Incorporate quality assurance and quality control (QA/QC) mechanisms to ensure data accuracy and reliability.
   - Outline standard operating procedures (SOPs) for data entry, storage & management.
   - Ensure protocols are adaptable to diverse field conditions and resource availability.

2. Select Appropriate Data Collection Technologies
   - Evaluate the use of remote sensing, drones, mobile apps, IoT devices, and other technologies for data collection.
   - Assess the feasibility and cost-effectiveness of different technologies in the Indian context.
   - Provide guidance on technology selection based on the specific indicator, scale of measurement, and available expertise.

3. Design a Scalable Data Management System
   - Develop a centralized database architecture for storing, managing, and analyzing FLR data.
   - Ensure data security, integrity, and accessibility for authorized users.
   - Establish data sharing agreements and protocols among different stakeholders.
   - Enable interoperability with existing national and state-level data platforms.

Task 1.2.3: Outline Institutional Arrangements and Governance Mechanisms

1. Define Roles and Responsibilities
   - Clearly define the roles and responsibilities of different government agencies, research institutions, NGOs, and local communities in the MER process.
   - Establish mechanisms for inter-agency coordination and collaboration.
   - Define data sharing agreements and protocols to facilitate information exchange.
2. Establish Governance Structures
   - Propose a multi-stakeholder governance framework for overseeing the implementation of the FLR MER system.
   - Outline decision-making processes, including mechanisms for stakeholder input and conflict resolution.
   - Ensure accountability and transparency in data collection, analysis, and reporting.
3. Develop Feedback and Adaptive Management Mechanisms
   - Design mechanisms for data feedback and dissemination to inform policy and practice.
   - Incorporate adaptive management principles into the MER system to allow for adjustments based on new information and changing conditions.
   - Ensure that the MER system supports continuous improvement in FLR implementation.

Work Package 2: Development of Digital Tools and Technologies for FLR Monitoring

This work package focuses on developing the digital tools necessary to support the implementation of the FLR monitoring framework designed in Work Package 1. This includes creating software applications, data dashboards, and decision support systems to facilitate data collection, analysis, visualization, and reporting.

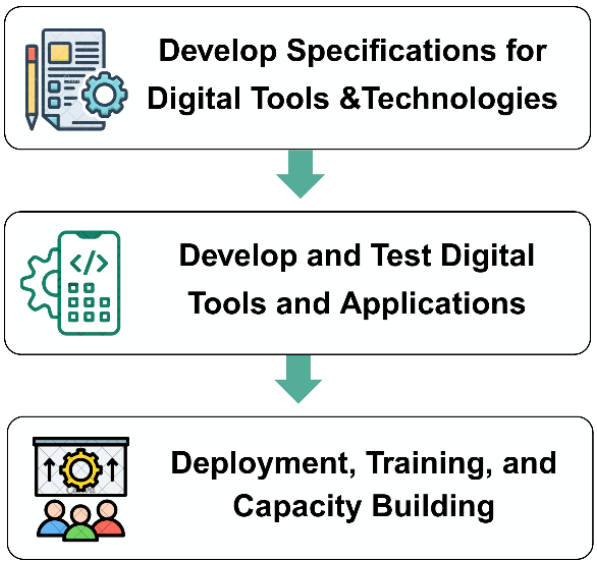

Activity 2.1: Develop Specifications for Digital Tools and Technologies

This activity involves defining the technical requirements, functionalities, and user needs for the digital tools to be developed.